Layout - Map

Overview

The map page features a full width and full height map that users can navigate and interact with - either with the device icons in the map or the function icons / map controls on either side.

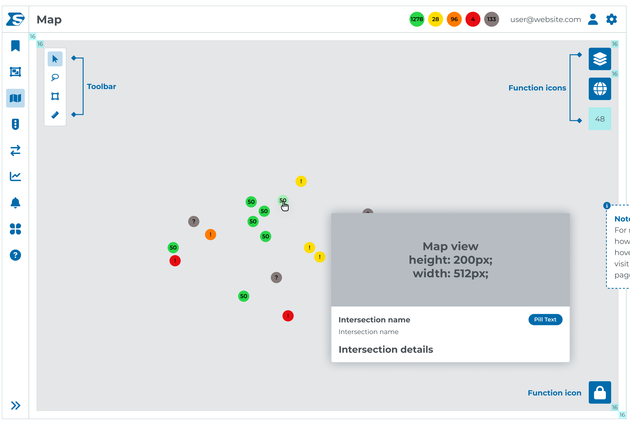

Dark mode

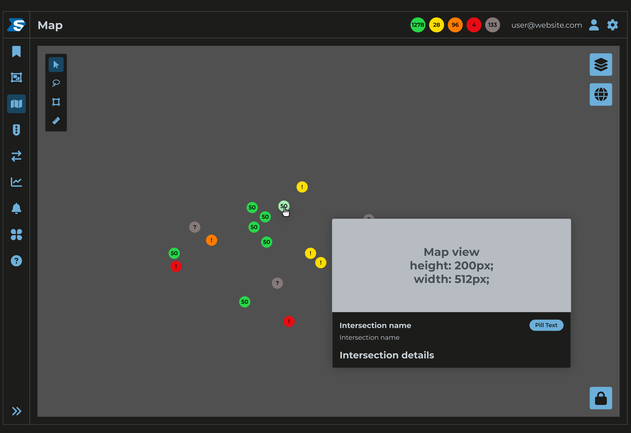

Core elements & construction

The map uses some unique UI elements which are detailed below.

Toolbar

Function icon subnavigation

The subnavigation panels is **top aligned and to the left of the active function icon** with a spacing **4px spacing.** it appears only for function icons that have a submenu.

In order to minimize vertical screenspace usage and to accomodate many items, it features an **accordion-style behavior** that allows for items to be categorized and only visible on click. **Only one category can be active/expanded at a time.**

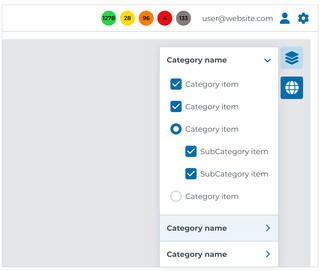

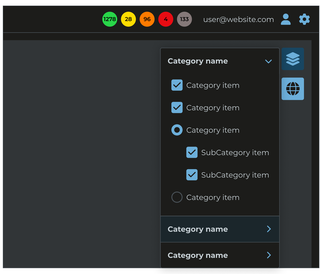

Construction

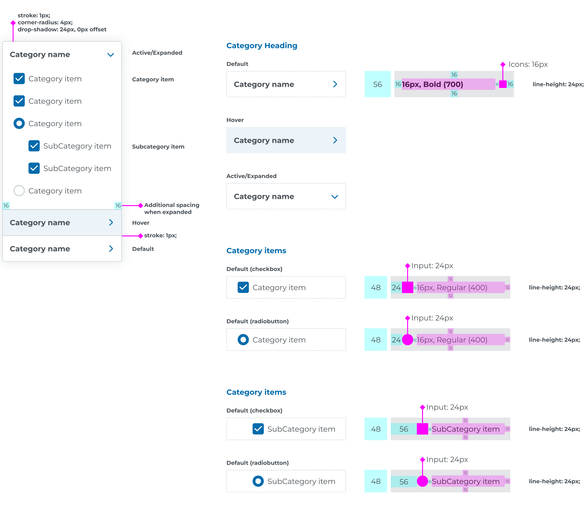
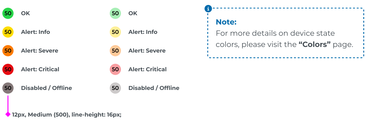
Device state dots